Design and Implementation of an Image-Based 3D Reconstruction and Real-Time Web Visualization System

Jobin Shaji
PG Scholar
Department of Computer Applications
Amal Jyothi College of Engineering Autonomous
Kanjirappally, India
jobinshaji2026@mca.ajce.in

Anit James
Assistant Professor
Department of Computer Applications
Amal Jyothi College of Engineering Autonomous
Kanjirappally, India
anitjames@amaljyothi.ac.in

Abstract - The field of computer vision and graphics has developed into a major area of study developing various methods for transforming 2D images into 3D models. The proposed system will create 3D models from image data and displays those models through a web user interface. The system uses multi-view photogrammetry and depth prediction methods to create 3D models which do not need expensive LiDAR equipment. The reconstruction pipeline uses multiple images to find matching features and determine the camera positions and create 3D models in the form of point clouds and mesh structures. The research focuses on creating methods to reconstruct reflective objects which include jewelry because their specular light and tiny surface details make reconstruction difficult. The generated models use Three.js and React Three Fiber to create a browser-based environment which enables users to interact with the models through rotation and zooming and detailed inspection. The software-based 3D reconstruction method offers a scalable solution which combines cost efficiency and practical value for contemporary visualization systems especially in e-commerce and digital design.

Index Keywords **-3D Reconstruction through Photogrammetry, Point Cloud (PC), Structure-from-Motion, Three.js, WebGL, Depth-map estimation, and NeRF**

I. Introduction

Digital platforms experienced fast development which created a greater need for authentic and interactive visual media. E-commerce and virtual prototyping and augmented reality applications require accurate and immersive displays of actual physical objects. The current systems rely on 2D images because they are limited to showing only superficial aspects of objects and their three-dimensional spatial arrangement.

The situation becomes more serious when businesses need to use visual elements which show product originality and product reflections and product geometric aspects to assess their products. The lack of physical product inspection results in decreased user trust which leads to higher product return rates. 3D reconstruction from images allows users to create digital models from photographs which solves the problem. Image-based techniques provide users with an accessible and expandable solution which hardware-based methods like LiDAR scanning need expensive specialized devices to operate.

The project develops a system which transforms multiple 2D images into a 3D model that web-based visualization platforms can use. The system uses modern web technologies to link advanced computer vision techniques with practical uses through its combination of reconstruction methods. The main goal of this research is to find a solution that delivers exact reconstruction results while needing less computing power and allows users to interact with the system which makes it possible to use in actual situations.

II. Literature Review

A. Structure-from-Motion and Multi-View Stereo

Structure-from-Motion (SfM) serves as the basic method for three-dimensional reconstruction because it uses multiple images to calculate camera locations and create sparse three-dimensional point clouds. SfM creates geometric scene reconstruction through its ability to detect matching features between different images. Multi-View Stereo (MVS) extends this approach by generating dense point clouds which lead to major improvements in reconstruction accuracy and detail. The software COLMAP has shown effective results when it combines SfM with MVS for use in real-world situations.

B. Deep Learning-Based Methods

Recent advancements in deep learning enable models to extract spatial information from image data which brings new capabilities to 3D reconstruction. The deep learning methods estimate depth and geometry and complete 3D models through their trained representations which differ from traditional geometric methods that need multiple images and precise feature matching to do these tasks.

Monocular depth estimation serves as a common technique which allows MiDaS models to generate depth maps from single RGB input images. The models use extensive training datasets to learn how to determine objects' relative depth positions.

The system operates with high speed but it produces results without absolute size measurements and shows difficulty in capturing small spatial features which makes it unsuitable for accurate reconstruction work. The field of digital modeling has advanced through the development of implicit surface representations and neural rendering techniques. Neural Radiance Fields (NeRF) create scene representations through continuous volumetric functions which transform spatial coordinates and viewing directions into color and density outputs.

This technology enables creation of extremely authentic visualizations which display multiple viewer perspectives and simulate intricate lighting effects that include reflections and transparent elements. The NeRF system needs several input images because it requires high processing power which restricts its application in real-time systems.

The new method Gaussian Splatting uses groups of 3D Gaussian primitives to create scene representations. The approach achieves faster rendering times than NeRF while maintaining visual quality. The system shows high potential for real-time usage and online visualization but it needs further development before it can handle extensive operation in public environments. Deep learning techniques continue to face challenges when they attempt to achieve accurate geometric reconstruction despite recent developments in the field.

C. Recent Research Trends

The recent studies conducted in 3D reconstruction research work toward achieving two main objectives which include better model reconstruction results and faster rendering processes. The CVPR and SIGGRAPH conferences introduced multiple new methods which merge geometric techniques with deep learning approaches.

The use of hybrid reconstruction methods has increased because traditional photogrammetry workflows now use machine learning tools. The depth estimation models help to improve reconstruction results in areas with weak feature matches while neural rendering methods create more realistic visual effects.

The creation of real-time 3D reconstruction systems which function on standard consumer devices represents a major movement in the field. Researchers are improving Gaussian Splatting rendering techniques to achieve higher speed rendering which makes the method better for real-time use. Researchers now show greater interest in developing methods which combine 3D reconstruction technology with augmented reality (AR) and virtual reality (VR) systems. The system allows users to engage with reconstructed models inside virtual spaces which enhances their overall experience.

The current technological progress leads to development of 3D reconstruction systems which achieve greater practical use together with better scalability and enhanced user experience design.

III. Analysis of Existing Methods

A. LiDAR-Based Methods

LiDAR (Light Detection and Ranging) uses lasers rays to measure distances between the sensor and object surfaces.

TABLE I: Comparison of Existing Methods

Method	Strengths	Limitations
LiDAR	Highly accurate depth	Expensive hardware
Photogrammetry	Cost-effective, good geometry	Requires multiple images
Deep Learning	Fast and flexible	Lower geometric accuracy

The system operates by sending laser rays to an object and receiving the reflected light back. The system calculates the distance between the Sencer and the object. This process happens throughout the surface of the object resulting in a dense point cloud This method is widely used in applications such as surveying and autonomous systems because it provides high precision results. The specialized hardware requirements of LiDAR systems create high expenses which restrict their use in general applications. The system accurately captures geometric data but it fails to provide essential texture data which is necessary for creating realistic visualizations.

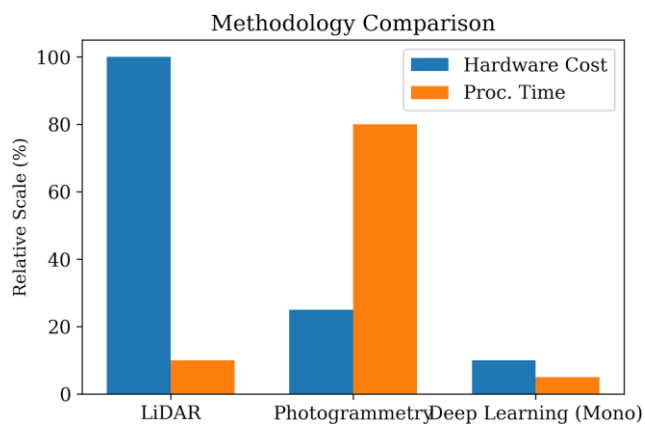

Fig. 1: Comparison of computational time (cost) between LiDAR, a complete Photogrammetry system, and a simple Monocular Depth Network. The software-only approaches offer significant cost advantages, as detailed in Table I and section III-B.

B. Photogrammetry-Based Methods

Photogrammetry creates three-dimensional models through the process of analyzing multiple pictures which show the same scene from different angles. The system generates three-dimensional spatial data by detecting matching feature points between multiple images to determine camera positions. The method has achieved widespread adoption because it only needs standard photography equipment and basic software applications to function.

The system generates accurate three-dimensional models when users provide appropriate illumination and an adequate number of images. Photogrammetry encounters difficulties when dealing with shiny surfaces and surfaces that lack distinct textures because these conditions prevent accurate feature identification. The entire photogrammetry pipeline needs a

substantial amount of processing time according to the results shown in Figure 1 yet it provides the three-dimensional data that simpler learning methods fail to produce.

C. Deep Learning-Based Methods

Deep learning methods use trained neural networks to deduce depth and three-dimensional structure from image data. The methods can process complex scenes while needing fewer input data to operate. The MiDaS model delivers depth estimation capabilities, NeRF and Gaussian Splatting provide advanced rendering methods. The techniques produce results that need extensive computing power while failing to deliver exact geometric measurements. The methodologies continue their development process while showing optimal performance when used together with established methods.

IV. Methodology

A. System Overview

The proposed system follows a structured pipeline consisting of:

- Image Acquisition
- Feature Extraction and Matching
- Dense Reconstruction
- Web-Based Visualization

A detailed breakdown of the time allocation within this computational pipeline is shown in Fig. 2.

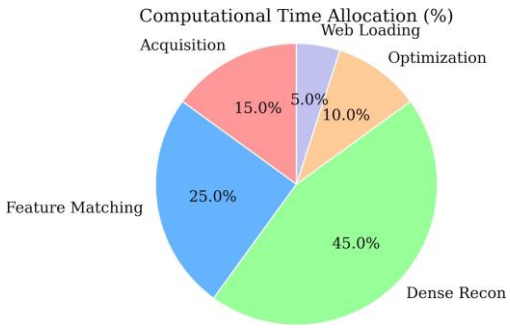

Fig. 2: Computational time allocation (%) across the key stages of the 3D reconstruction pipeline. Dense Reconstruction (MVS) is the most time-intensive component.

B. Image Acquisition

The reconstruction pipeline begins with image acquisition which serves as its essential foundational step. The system needs to capture multiple object images from various angles to achieve complete 3D coverage of its entire structure. The standard practice involves using between 20 to 50 photographs which varies according to the level of detail present in the subject being photographed.

The current phase requires operators to capture new images which should maintain 70 to 80 percent image overlap between adjacent shots. The two images must share sufficient common elements because this allows for ongoing reconstruction work through matching and detection processes between the shared elements of both images.

The process of camera positioning enables the photographer to obtain complete visual coverage of all object surfaces. The photographer should capture images from multiple perspectives which include overhead and lateral plus slanted angles to ensure complete coverage of the object. The jewelry industry requires precise edge and engraving detail which needs to be preserved through special design methods.

Control over lighting conditions needs to proceed through a process of precise management. The intense illumination of the environment produces strong light reflections together with deep shadow areas which disrupt the process of detecting important visual elements. The object receives equal light distribution through diffuse lighting which also maintains lower levels of reflective surface brightness. The camera system needs a stable setup because it helps in decreasing the movement that leads to blurred images.

C. Feature Extraction and Matching

The process of feature extraction uses SIFT algorithms to find unique points which exist in images. The key points function based on edges and corners together with texture patterns which maintain their appearance under various viewing angles.

The system creates descriptors after it detects key points to provide an exact representation of each element. The system uses these descriptors to find matching elements between different images by establishing connections between different perspectives.

The system eliminates outlier matches through the application of robust estimation methods which include RANSAC. The system conducts bundle adjustment procedures to enhance camera settings while reducing errors in 3D reconstruction.

This stage produces a sparse point cloud which shows the object together with its corresponding camera position estimates.

D. Dense Reconstruction and Meshing

The process of dense reconstruction develops from sparse point cloud data through the application of Multi-View Stereo techniques. The system creates depth information for all pixels which results in a full point cloud that includes precise surface details. The point cloud data then undergoes transformation through Poisson surface reconstruction to create a smooth continuous surface. The resulting mesh from this process demonstrates the physical structure of the object. Texture mapping uses the original image to create a visually authentic texture effect. The textured mesh then goes through smoothing and optimization to achieve better quality and performance results.

E. Web-Based 3D Visualization and System Implementation

The web-based visualization system renders 3D models stored in the cloud through Three.js. The dedicated viewer component handles GLTF/GLB model data by first loading it then showing the output on a WebGL canvas.

The rendering pipeline uses GLTFLoader to load models and display them as primitive objects which maintain their original structure and materials. The system creates realistic shadow effects by using environmental light sources together with ambient light sources which also make the model more recognizable.

The system allows users to interact through orbit controls which permit them to turn objects and magnify their view of the content. The implementation of lazy loading technology leads to better system performance and enhanced experience for users.The product pages include a viewer feature that allows users to toggle between 2D images and 3D models. The backend services handle model uploads while they store URLs in the database system which enables delivery to scale.

V. Challenges and Solutions

A. Reflective Surfaces

The problem of reflective surfaces which include jewelry because they create difficulties when people try to view them from different angles. The point matching process across different images becomes disrupted because the system finds it hard to identify features due to this problem. The majority of jewelry items display smooth surfaces which lack any observable texture thus making it impossible to find detectable features. The result of this process produces either partial or incorrect remakes of the original work. The solution to these problems requires following these steps. The system uses diffuse lighting to minimize the intensity of reflective material. The system captures multiple pictures to achieve better area coverage. The system uses image preprocessing methods to improve the detection of visual elements.

B. Computational Complexity

The process of 3D reconstruction requires extensive computational resources because it needs to process a substantial volume of data. The feature matching process needs to analyze thousands of keypoints that exist across multiple images whereas bundle adjustment requires the solution of intricate optimization tasks.

The process of dense reconstruction demands significant resources because it needs depth estimation for more than one million pixels. The mesh generation process together with texturing creates additional computational demands on the system.

To manage complexity:

- The system employs GPU acceleration for performance enhancement
- The system achieves better performance through image resolution optimization
- The system achieves faster processing times through the implementation of efficient algorithms

VI. Results

The system was tested through its assessment with various objects, including jewelry, toys, and stationery items. These objects were selected because their complicated shapes and shiny surfaces create difficulties for reconstruction. The analysis display in Figure 3 shows how reconstruction fidelity changes according to the number of input images N.

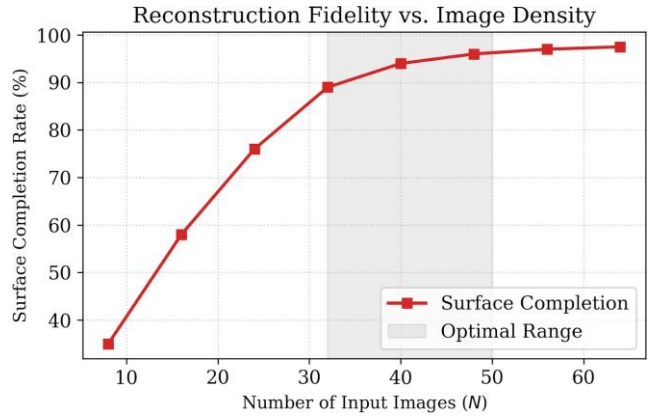

Fig. 3: Analysis of Reconstruction Fidelity as a function of the number of input images (N). Surface completion stabilizes in the range of 32–50 images, defining the optimal acquisition set for high-detail jewelry objects.

The surface completion process achieves stable results when 32 to 50 images are used which establishes the best image collection for acquiring high-detail jewelry objects. The assessment examined both the visual appearance and practical functions of the produced models. The reconstructed models successfully displayed accurate geometric shapes because their edges and curves and surface details remained intact. The system effectively captured small design elements and engravings through the use of complete image coverage. The figure shows how reconstruction accuracy changes with different amounts of input images. The web-based visualization system lets users work with models because its user interface enables complete model interaction. The users could rotate the models and zoom in and out while inspecting them without experiencing any delay. The optimized rendering techniques produced stable performance results across all devices which Figure 4 summarizes. The multi-view photogrammetry method delivered better results than single-image depth estimation methods because it produced detailed and precise 3D models. The speed of single-image methods made them easier to use but they produced less accurate results because they failed to create complete 3D models.

The system delivers high visual fidelity together with interactive capabilities which makes it suitable for e-commerce product visualization and digital product presentation.

VII. Discussion

The system implementation shows that multiple techniques must be used together to create accurate 3D reconstruction results. The photogrammetry method delivers precise geometric measurements because modern web technologies provide users with interactive visual experiences. The research shows

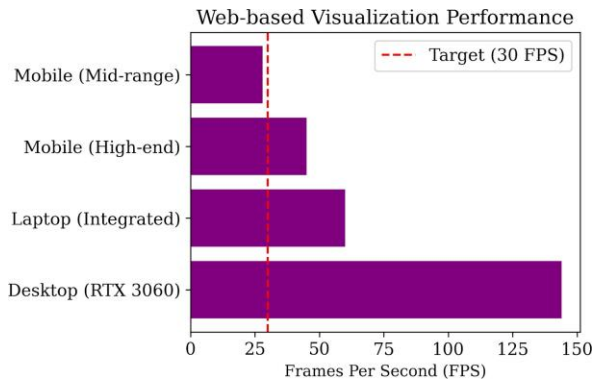

Fig. 4: Real-time Web Visualization Performance (FPS) of the optimized GLB models on different platforms. High framerates on desktop and acceptable performance on mobile devices confirm the scalability of the Three.js viewer.

that researchers must balance two opposing elements which are accuracy and computational expenses. The process of reconstructing high-quality images demands both multiple image analyses and complex computational tasks which lead to greater processing needs. The applications which require visual quality as their main priority need this specific trade-off to function properly.

The system demonstrates that data quality serves as a crucial system element. The reconstruction process accuracy depends on three factors which are image resolution and lighting conditions and camera angles. The appropriate data acquisition process can achieve significant results without needing adjustments to the fundamental algorithms.

The system demands two components which are user application developers and reconstruction technology experts to work together. The system delivers instant benefits to users through its 3D viewer integration with web interfaces which makes the technology more useful and easier to use.

VIII. Conclusion

The study presents a complete system which transforms 2D images into 3D models while providing an interactive web-based visualization system to display the generated models. The system uses photogrammetry methods together with current web technologies to develop a solution which users can easily access and which can expand to meet their needs.

The study results prove that image-based 3D reconstruction functions as a valid substitute for hardware-dependent techniques because it delivers adequate accuracy required by numerous practical applications. The system enables users to access its features through web browsers because its design includes integration with web technologies for model interaction.

The study shows that computer vision together with web technologies enables the creation of digital environments which provide users with interactive experiences that resemble real-world spaces.

IX. Future Scope

- Integration of Neural Radiance Fields (NeRF)
- Real-time Gaussian Splatting
- AR-based visualization
- Improved handling of reflective materials

Acknowledgment

The author would like to thank Amal Jyothi College of Engineering for their support.

References

[1] R. Szeliski, *Computer Vision: Algorithms and Applications*, Springer, 2010.

[2] J. L. Schonberger and J.-M. Frahm, “Structure-from-Motion Revisited,” CVPR, 2016.

[3] B. Mildenhall et al., “NeRF: Representing Scenes as Neural Radiance Fields,” ECCV, 2020.